LETTER OF AGREEMENT

Effective: September 4, 2025

1. **PURPOSE:** This agreement outlines standard procedures for coordination and control of air traffic between Oakland Air Route Traffic Control Center (ZOA) and Travis Radar Approach Control (RAPCON); hereafter referred to as “Travis.”

2. **CANCELLATION:** This document cancels the Oakland ARTCC and Travis Radar Approach Control Letter of Agreement, same subject, dated March 26, 2020.

3. **SCOPE:** This agreement delineates responsibilities and prescribes procedures for the coordination of air traffic between ZOA and Travis. Frequencies are listed in megahertz; altitudes are listed in mean sea level.

4. **DEFINITIONS:**
   a) A route denoted as “FDIO” refers to filed or assigned to the aircraft either manually or through automation.
   b) An altitude denoted as “FDIO” shall be one that is appropriate for the direction of flight and will retain the aircraft in the receiving sector’s airspace.
   c) Croit Gate: three (3) NM either side of CROIT intersection on V195.

5. **GENERAL:**
   a) Travis has continuous control of the airspace depicted in Attachment 2.
   b) The minimum radar separation for aircraft being transferred between facilities will be five (5) NM constant or increasing.
   c) Inter-facility coordination will be accomplished with the appropriate sector. That sector is then responsible for further intra-facility coordination.
   d) Upon completion of radar handoff and communications transfer:
      (1) Travis will have control for descent and turns within five (5) NM of the ZOA/Travis common boundary on all traffic entering Travis delegated airspace.
      (2) ZOA will have control for descent and turns within five (5) NM of the ZOA/Travis common boundary north of V150.
      (3) ZOA will have control for descent west of the Concord (CCR) VOR and control for vectors west of V195 for aircraft routed through the Croit gate.
      (4) ZOA will have control for vectors and climb on aircraft departing Travis AFB (SUU) Runway 03/21 that are above 5,000 ft, and departing all other Travis airports at or above 8,000 ft.
      (5) During SFOE, ZOA will have control for vectors on contact for aircraft landing Oakland (OAK) or San Francisco (SFO) that are routed via V108 CROIT V195 CORDD SGD.
   e) Travis will notify ZOA when a change in Travis runway configuration or sectorization occurs that affects ZOA traffic. ZOA will inform Travis of the traffic configuration in the Bay Area.

For Simulation Use Only

6. ARRIVALS:

a) Arrivals will be routed via the routes and altitudes specified in Attachment 1 or via a preferential arrival route (PAR) or preferential departure and arrival route (PDAR).

7. DEPARTURES:

a) All Travis AFB (SUU) departures will be routed via the appropriate SID, or radar vectors direct first fix after ILA.

b) Departures will be routed via the routes and altitudes specified in Attachment 1 or via a preferential departure route (PDR) or PDAR.

c) Departures will be assigned 10,000 ft or lower requested altitude. Aircraft requesting altitudes above 10,000 ft will be assigned 10,000 ft and advised to expect further clearance to their filed altitude 10 minutes after departure. Except as noted in Attachment 1, aircraft may be climbing to assigned altitude at the time communications are transferred.

d) Prior to release, ZOA will coordinate high performance aircraft departing Napa (APC) Runway 06, or departing Runways 1L/1R and not assigned the published departure procedure, with Travis.

e) All Travis AFB (SUU) formation flights will be nonstandard formation using MARSA procedures. Formation flights will normally consist of two to four heavy aircraft departing Travis AFB via ILA transition or radar vectors ILA in one (1) minute intervals. Travis will:

(1) Assign a block altitude to allow intra-cell vertical spacing of 500 ft between each aircraft in the formation.

(2) Assign each aircraft the appropriate computer generated beacon code.

(3) Assign all nonstandard formatting departures a breakup fix as a clearance limit.

(4) Ensure each aircraft's remarks contain “MARSA (wingman’s callsign)”.

8. EN ROUTE:

a) En route aircraft transitioning Travis airspace will be routed via the routes and altitudes specified in Attachment 1 or via a PDR/PDAR.

9. ATTACHMENTS:

a) Attachment 1: Preferential Routes and Altitudes

b) Attachment 2: Airspace

ATTACHMENT 1.
PREFERENTIAL ROUTES AND ALTITUDES

1. ENTERING TRAVIS AIRSPACE:

DESTINATION	ROUTE	ALTITUDE
SUU	Appropriate STAR or Direct Travis	11,000 or 9,000
SUU	RNAV OPD STAR	Descend via
CCR	Direct CCR or V108 or FDIO	FDIO
OVERFLIGHT Over or North of V150 (SFOW)	FDIO	FDIO
OVERFLIGHT South of V150 (SFOW)	V108 OAKEY	7,000 or below
OVERFLIGHT Over or North of V150 (SFOE)	FDIO	FDIO
OVERFLIGHT South of V150 (SFOE)	V108 OAKEY	5,000 or 3,000

2. EXITING TRAVIS AIRSPACE:

DESTINATION	ROUTE	ALTITUDE
APC	V494 POPES SGD or RV CROIT GATE H260	6,000 (4,000 for CCR departures)
STS, DVO, O69	V494 or Direct SGD or Direct Airport	6,000 (4,000 for CCR departures)
OVER FLIGHT (SFOW)	FDIO	FDIO
OAK (SFOE - Props)	V108 CROIT V195 CORDD SGD V87 REBAS OAK	Level at 6,000
OAK (SFOE - Jets)	V108 CROIT V195 CORDD SGD SAU OAK	Level at 6,000
SFO (SFOE - Jets)	V108 CROIT V195 CORDD PYE V27 STINS SFO	Level at 8,000

ATTACHMENT 2.
AIRSPACE

1. TRAVIS SFOW

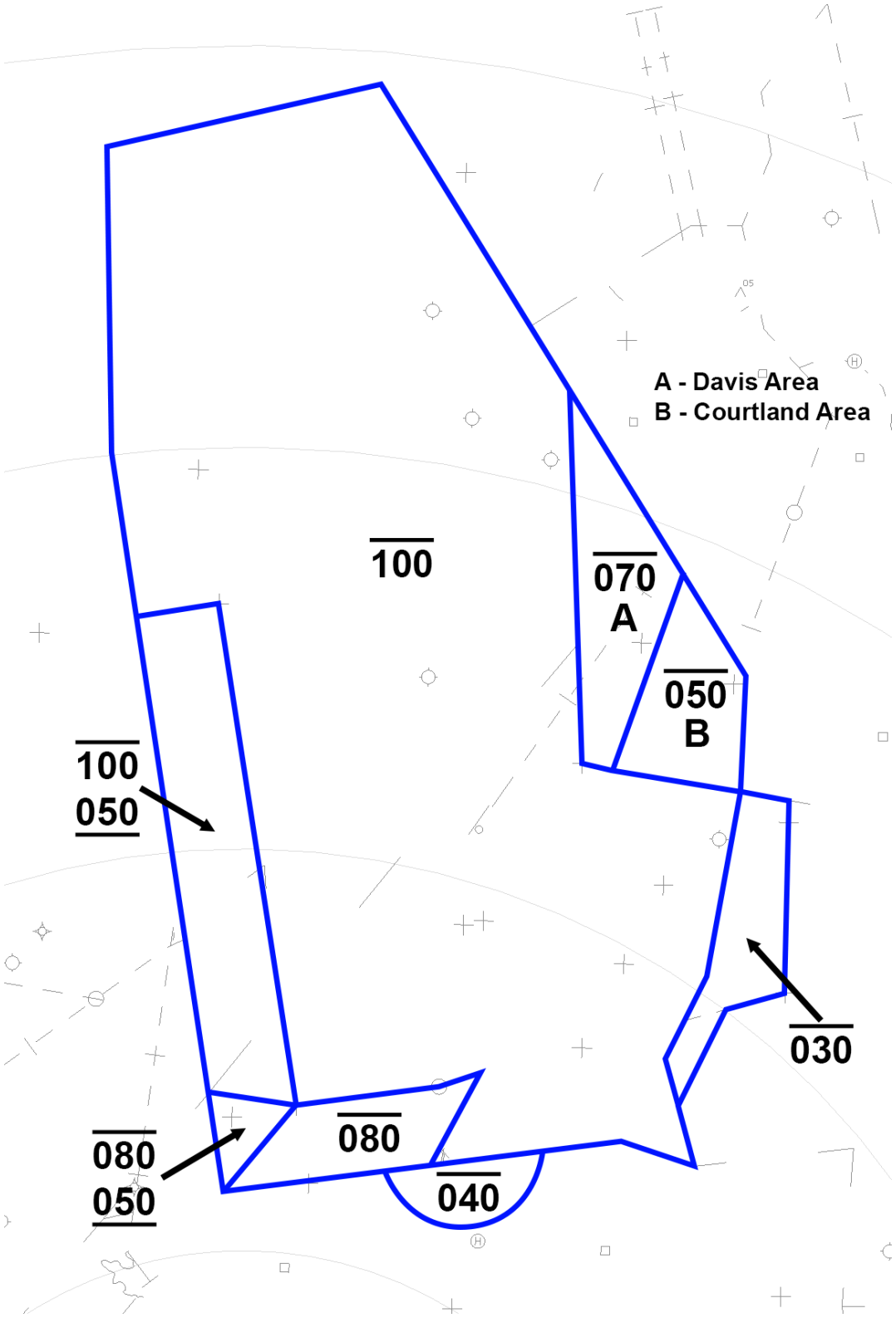

For Simulation Use Only

2. TRAVIS SFOE

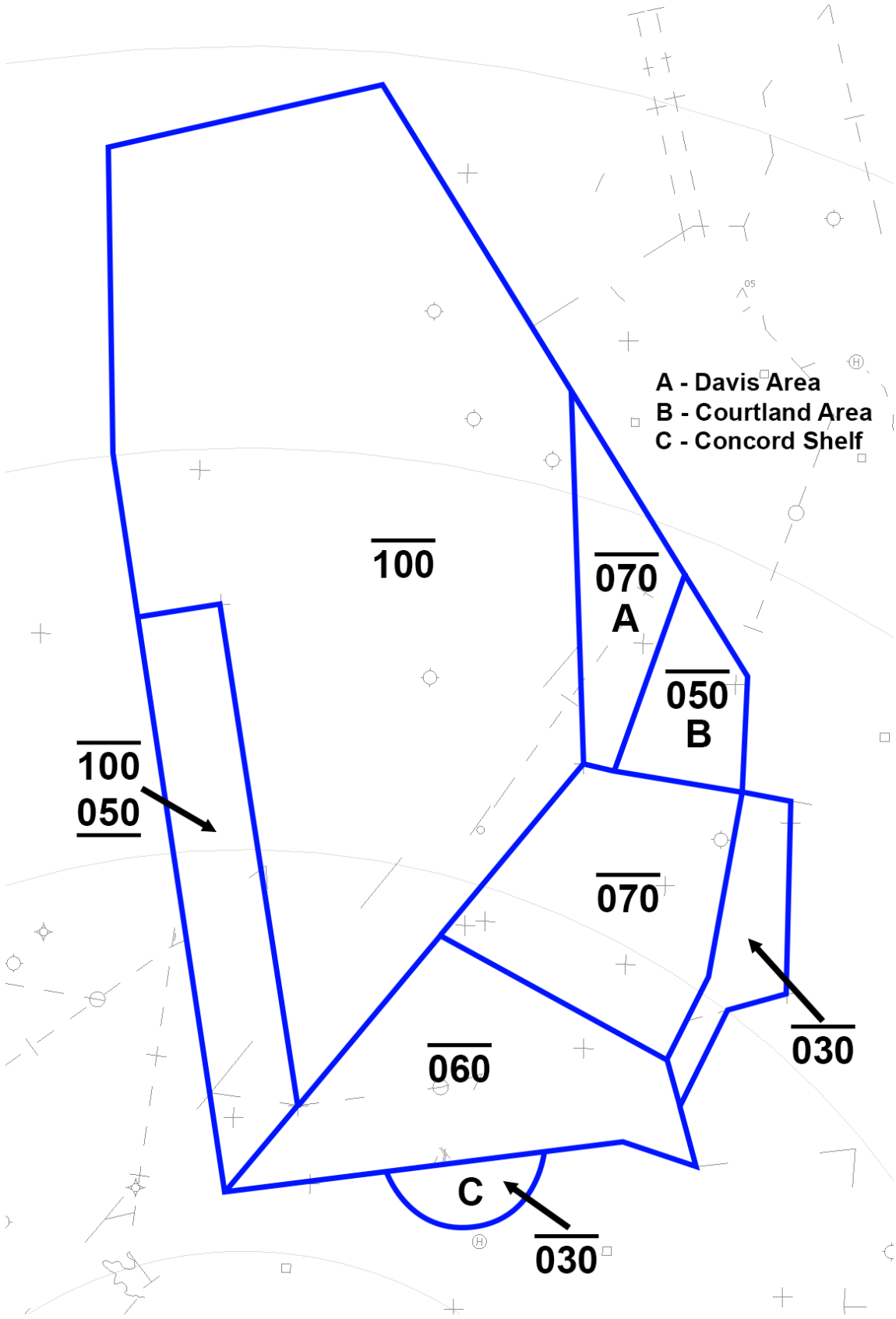

For Simulation Use Only

3. TRAVIS SECTOR BOUNDARIES

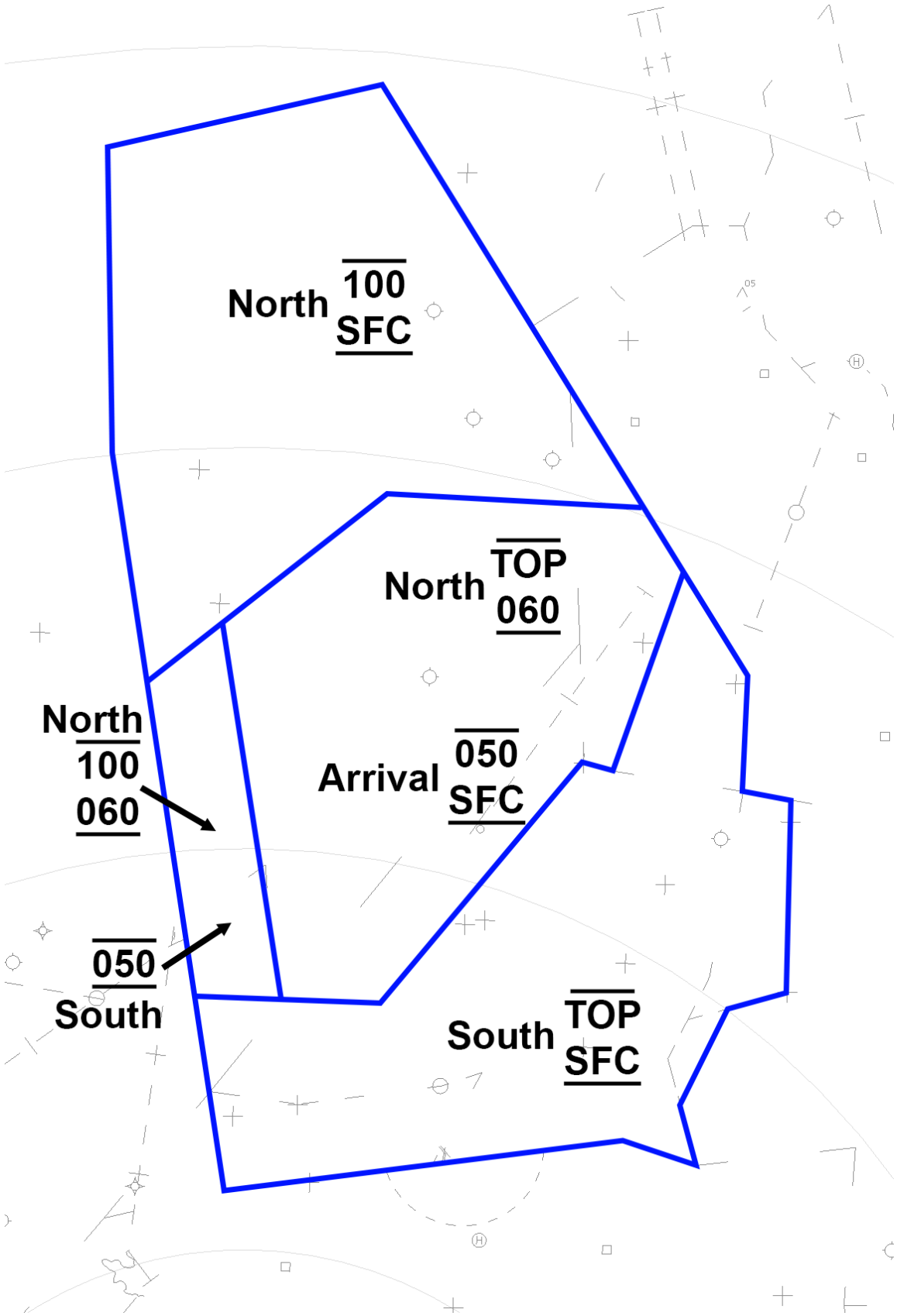

For Simulation Use Only

4. CROIT GATE

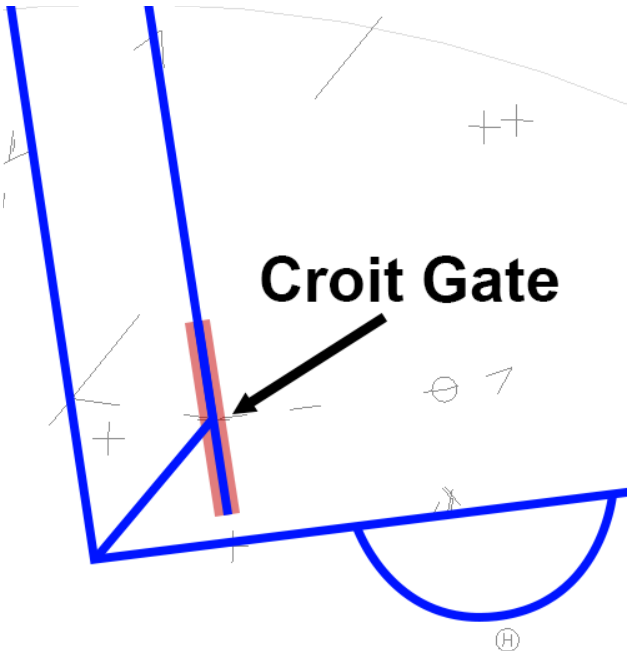

For Simulation Use Only