LETTER OF AGREEMENT

Effective: September 4, 2025

1. **PURPOSE:** This agreement outlines standard procedures for coordination and control of air traffic between Northern California Terminal Radar Approach Control (NCT) and Travis Radar Approach Control (RAPCON); hereafter referred to as "Travis."

2. **CANCELLATION:** This document cancels the Northern California TRACON and Travis Radar Approach Control Letter of Agreement, same subject, dated October 23, 2021.

3. **SCOPE:** This agreement delineates responsibilities and prescribes procedures for the coordination of air traffic between NCT and Travis. Frequencies are listed in megahertz; altitudes are listed in mean sea level.

4. **DEFINITIONS:**
   a) A route denoted as "FDIO" refers to filed or assigned to the aircraft either manually or through automation.
   b) An altitude denoted as "FDIO" shall be one that is appropriate for the direction of flight and will retain the aircraft in the receiving sector's airspace.

5. **AIRSPACE:**
   a) Aircraft operating between the floor/ceiling of two NCT sectors are the responsibility of the overlying sector.
   b) During SFOE, Travis must:
      (1) Request control from Grove for the Concord Arc airspace up to 4,000 feet for departures.
      (2) Release control of the Concord Arc airspace as soon as practical.
      NOTE- *To the maximum extent possible, NCT must not delay CCR departures.*
   c) NCT may request the Davis area 4,000 feet and below and the Courtland area 3,000 feet and below for brief periods.

6. **GENERAL:**
   a) Travis must advise Paradise sector of runway changes at Travis Airport (SUU).
   b) NCT must advise Travis of changes to NCT's traffic flow plan, as well as any other pertinent information that may affect Travis.
   c) Inter-facility coordination must be accomplished with the appropriate sector. That sector is then responsible for further intra-facility coordination.

7. **IFR PROCEDURES:**
   a) Aircraft must be routed via the routes and altitudes contained in this agreement. If a route and altitude is not listed in this agreement, clear aircraft via the FDIO route.
   b) The minimum radar separation for aircraft transferred between facilities is five (5) NM or Consolidated Wake Turbulence separation, whichever is greater.

For Simulation Use Only

c) Aircraft are the receiving sector's control within the transferring controller's airspace only and may be climbing or descending to their assigned altitude.
EXCEPTION- *Aircraft routed through the Oakey Gate above 7,000 feet are Travis' control for turns only.*
EXCEPTION- *Arrivals from the south are NCT's control provided the aircraft remains at least three (3) NM east of the SUU Runway 21 final approach course.*

8. PRE-ARRANGED COORDINATION PROCEDURES (P-ACP):

a) Travis authorizes NCT to re-enter Travis airspace in the Davis and Courtland Areas with aircraft handed off by Travis, and landing within NCT airspace, provided the aircraft is routed in accordance with this agreement.

9. RIO VISTA AIRPORT (O88) IFR PROCEDURES:

a) Travis is the IFR clearance authority for departures.
b) Travis must:
(1) Provide the appropriate IFR separation to VFR practice approaches.
(2) Protect the missed approach procedure for all IFR arrivals and VFR practice approaches, when authorized.
(3) If received, forward IFR cancellations to NCT for aircraft not cleared by Travis.
(4) Coordinate with Paradise sector (Valley sector if applicable) prior to releasing a departure.
c) NCT must:
(1) Point out arrivals to Travis; including how the approach will terminate.
(2) Advise Travis when an arrival lands, executes a missed approach, or cancels IFR.

10. ROOSEVELT RANCH (CN40) IFR PROCEDURES:

a) Travis is the IFR clearance authority for arrivals and departures.
b) Travis must:
(1) Advise when an arrival lands, executes a missed approach, or cancels IFR.
(2) Coordinate with Elkhorn prior to releasing a departure.
(3) Not authorize the published missed approach for VFR practice approaches.
c) NCT must protect the missed approach procedure for all IFR arrivals.

11. ATTACHMENTS:

a) Attachment 1: Routes and Altitudes from NCT to Travis
b) Attachment 2: Routes and Altitudes from Travis to NCT
c) Attachment 3: Airspace

For Simulation Use Only

ATTACHMENT 1.
ROUTES AND ALTITUDES FROM NCT TO TRAVIS

1. EXITING RICHMOND OR GROVE:

DESTINATION	ROUTE	HANDOFF	TYPE	ALTITUDE
CCR, DWA, EDU, O41, SUU, VCB (SFOW)	RV Destination	South	J T P	5,000 or higher filed altitude
SMF (SFOW)	Via CCR STAR		J T	10,000 or lower filed altitude
SAC (SFOW)	FDIO or SAC VOR			

2. EXITING VALLEY:

DESTINATION	ROUTE	HANDOFF	TYPE	ALTITUDE
CCR, DWA, EDU, O41, SUU, VCB	Oakey Gate (Remain North of PITTS)	South	P	4,000
	Oakey Gate		J T	6,000

3. EXITING PARADISE OR ELKHORN:

DESTINATION	ROUTE	HANDOFF	TYPE	ALTITUDE
CCR	REJOY CCR	South	P	4,000
			J T	6,000
SUU	SAC SEATO or RV North of O41	North	J T P	8,000 or lower filed
VCB	Direct Airport or Direct IAF	Arrival		4,000
EDU, O41		North		3,000
DWA		Arrival		5,000
OAK (SFOE)	SAC V494 POPES SGD V87 REBAS	North	T P	6,000

4. OVERFLIGHTS (OVERFLYING TRAVIS AIRSPACE):

DESTINATION	ROUTE	HANDOFF	TYPE	ALTITUDE
(SFOW)	Oakey Gate or V108	South	P	6,000
			J T	8,000
(SFOE)	Oakey Gate or V108	South	P	6,000
		North	J T	8,000
	FDIO	North	P	6,000
			J T	8,000
APC O69 DVO STS (From Area E)	Direct	North	P	6,000
			J T	8,000

ATTACHMENT 2.
ROUTES AND ALTITUDES FROM TRAVIS TO NCT

1. EXITING TRAVIS AIRSPACE:

DESTINATION	ROUTE	HANDOFF	TYPE	ALTITUDE
E16, NUQ, PAO, RHV, SJC, SQL	Oakey Gate or V108 LODDI BUSHY	Valley	P	5,000
	Oakey Gate or V108 LODDI BORED KLIDE		J T	7,000 (SFOW)
				5,000 (SFOE)
LSN, MCE, MER, MOD	Oakey Gate or V108 LODDI MOD VOR		J T P	5,000
C83, LVK, O27, SCK, TCY, 1O3	Oakey Gate or V108 LODDI			
HWD, OAK (SFOW, OAKE)	SABLO	Richmond (SFOW) Grove (OAKE)		4,000
HWD (SFOE)	Oakey Gate or T263 MOVDD T259 NORCL	Valley		5,000
O88, SAC	RV COUPS	Paradise		3,000
AUN, GOO, JAQ, LHM, MCC, MHR, PVF	Via SAC VOR			5,000
HAF, SFO (SFOW, OAKE)	SABLO	Richmond (SFOW) Grove (OAKE)		4,000
HAF, SFO (SFOE)	REBAS V150 SAU	Grove	T P	
SMF (SMFS)	RV North of O41	Elkhorn	J T P	5,000
SMF (SMFN)	Via SAC VOR	Paradise		
SMF (SMFS)	CCR STAR		J T	7,000
AUN, BAB, GOO, LHM, MYV, OVE	RV North of O41	Elkhorn	J T P	5,000
CVH, MRY, OAR, SNS, WVI	Oakey Gate or T263 WINDY T261 SNS VOR	Valley	P	5,000
			J T	7,000 (SFOW)
				5,000 (SFOE)

For Simulation Use Only

2. OVERFLIGHTS (OVERFLYING NCT AIRSPACE):

DESTINATION	ROUTE	HANDOFF	TYPE	ALTITUDE
(SFOW)	Oakey Gate or V108	Valley	P	5,000
			J T	7,000
(SFOE)			J T P	7,000
SUU Runway 3	Via SAC VOR	Paradise	J T	7,000
SUU	FDIO through Oakey Gate	Richmond	J T P	10,000 (SFOW)
				7,000 (SFOE)
Airport in Travis Airspace	V108 or RV through Oakey Gate			10,000 (SFOW)
				7,000 (SFOE)

ATTACHMENT 3.
AIRSPACE

1. TRAVIS SFOW

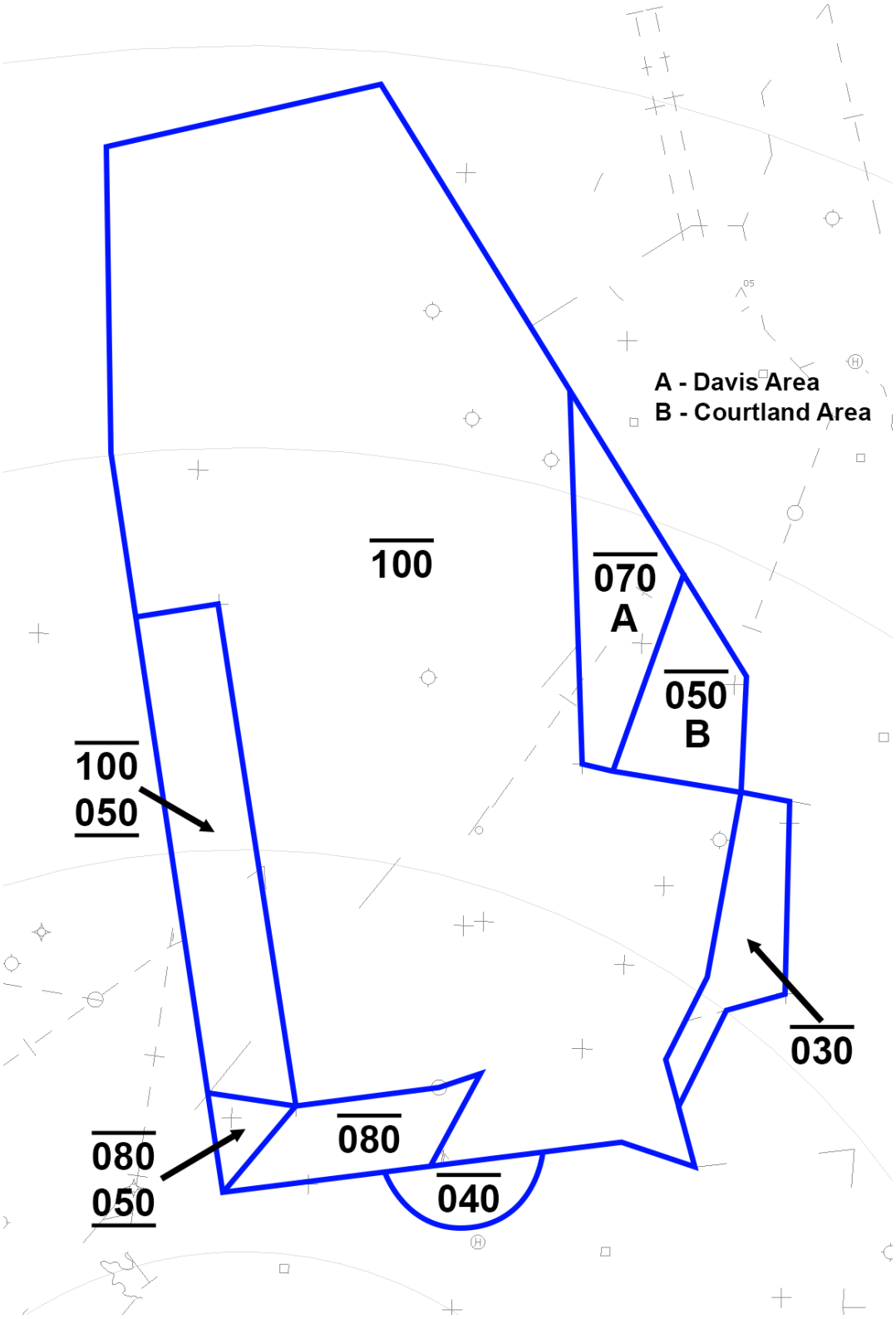

For Simulation Use Only

2. TRAVIS SFOE

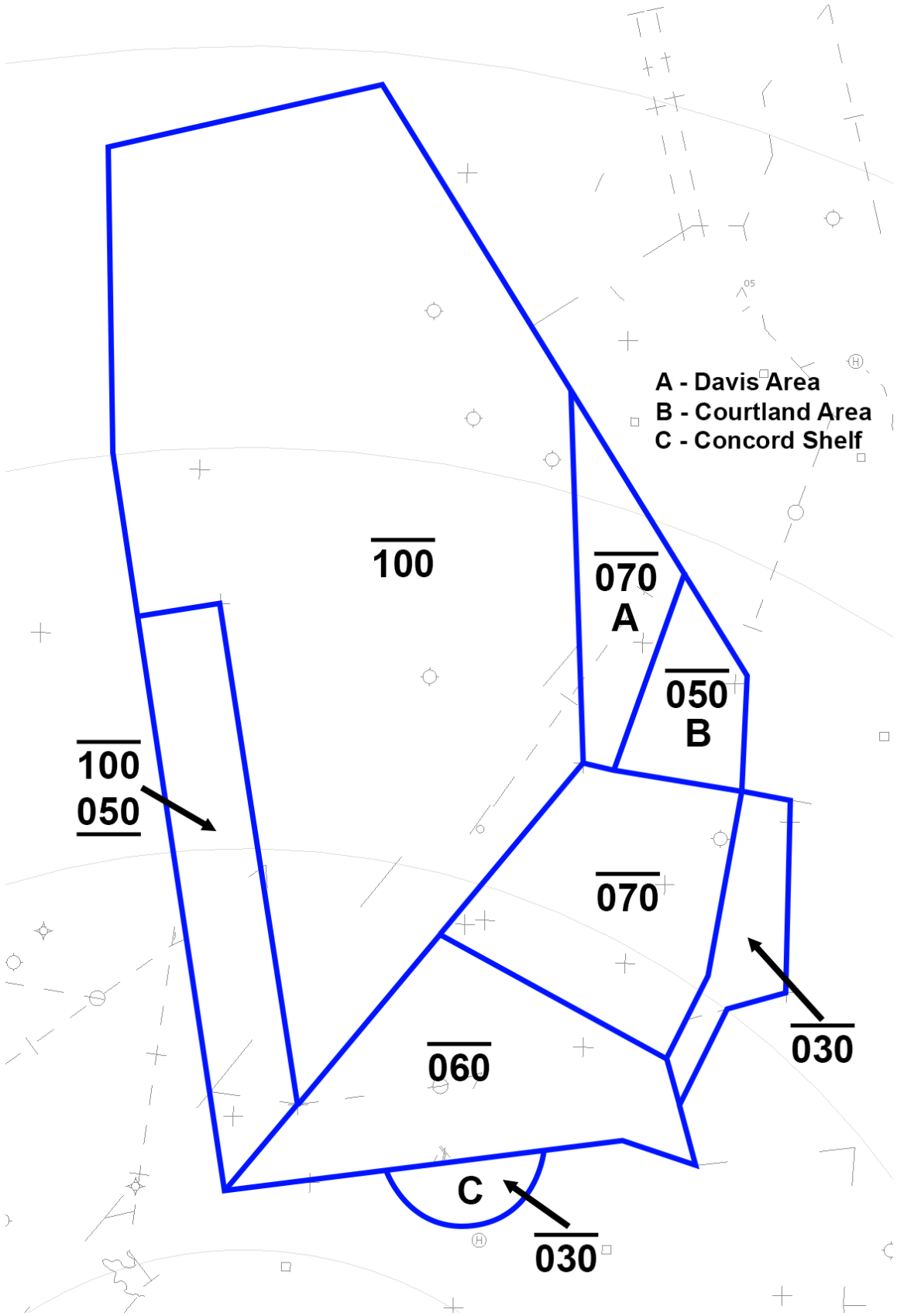

For Simulation Use Only

3. TRAVIS SECTOR BOUNDARIES

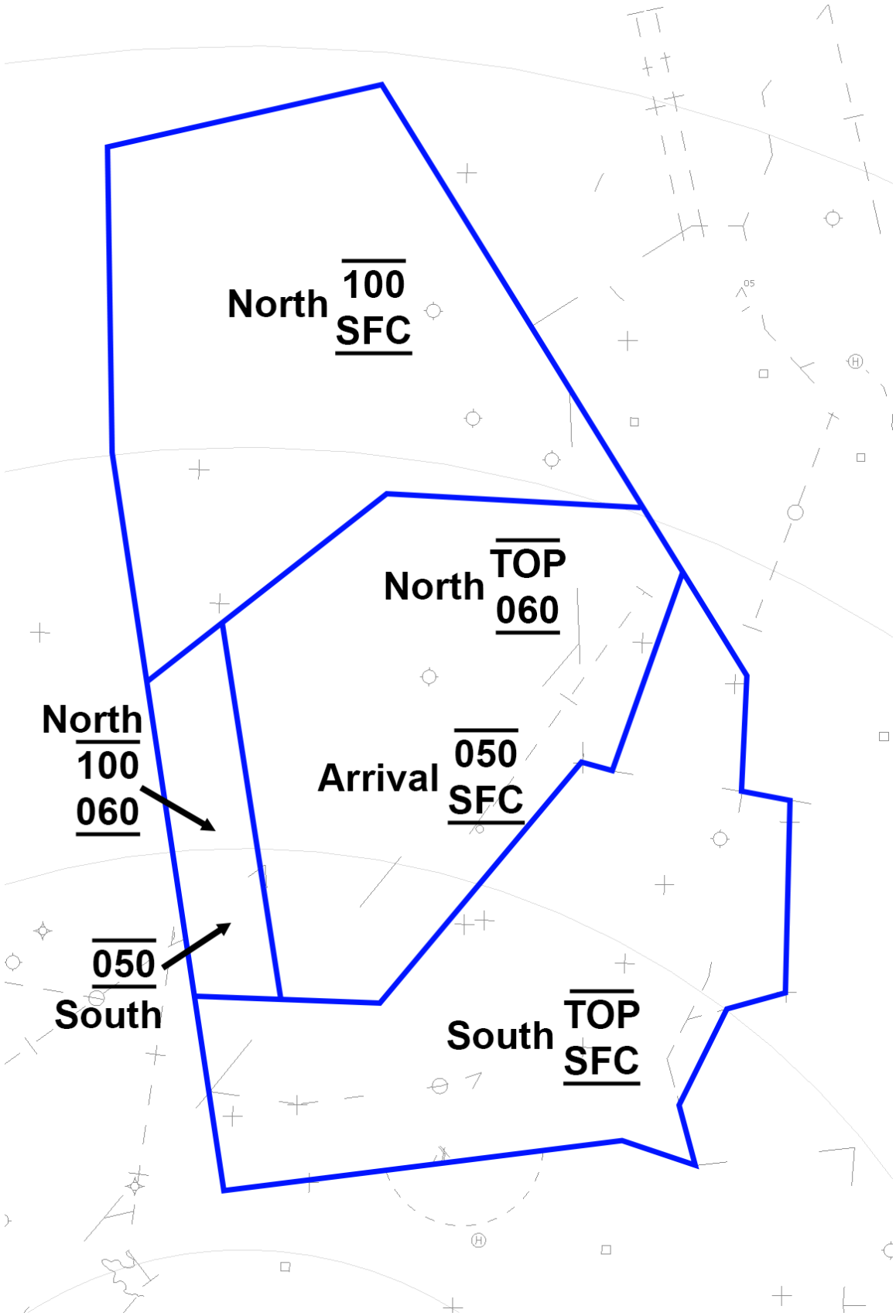

For Simulation Use Only

4. OAKEY GATE

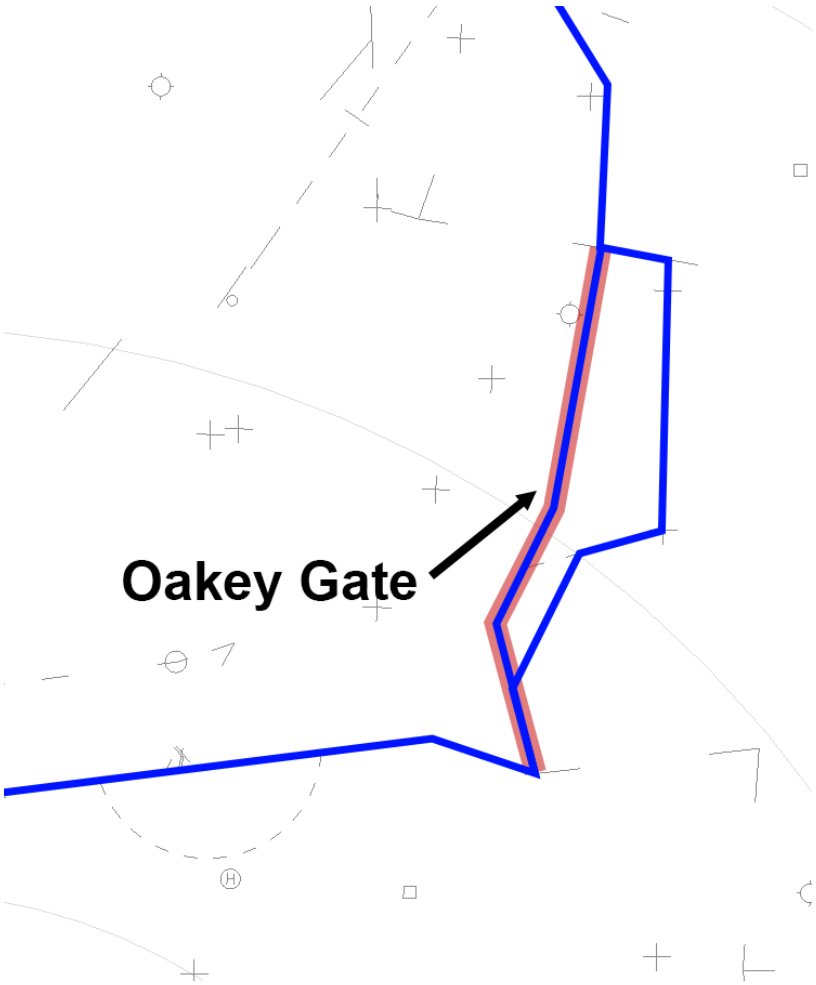

For Simulation Use Only